My Research Project

Kamryn Mansfield[1], Second Author[2,3]

[1]University of Tennessee,
[2]University,
[3]Something else,

Corresponding author: Kamryn Mansfield, `steve@curvenote.com`

Abstract

Here is the abstract

Plain Language Summary

Here is the plain language summary.

1 Introduction

2 Literature Review

3 Data Section

4 Methodology

5 Results

6 Implications

7 Conclusion

References

Marrero, J., García, A., Berrocoso, M., Llinares, Á., Rodríguez-Losada, A., & Ortiz, R. (2019). Strategies for the development of volcanic hazard maps in monogenetic volcanic fields: The example of La Palma (Canary Islands). *Journal of Applied Volcanology*, *8*. https://doi.org/10.1186/s13617-019-0085-5

8 Quarto Examples

Source: Article Notebook

Source: Article Notebook

8.1 In-line code

Based on data up to and including 1971, eruptions on La Palma happen every 79.8 years on average.

8.2 Using citations

Studies of the magma systems feeding the volcano, such as Marrero et al. (2019), have proposed that there are two main magma reservoirs feeding the Cumbre Vieja volcano; one in the mantle (30-40km depth) which charges and in turn feeds a shallower crustal reservoir (10-20km depth).

8.3 Figure References

Eight eruptions have been recorded since the late 1400s (Figure 1).

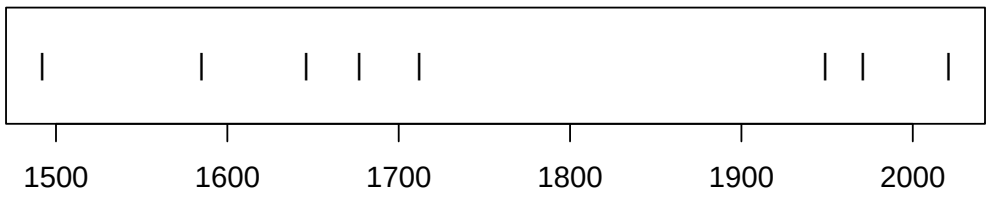

Figure 1: Timeline of recent earthquakes on La Palma

Source: Article Notebook

8.4 Section References

Data are discussed in Section 3.

8.5 LATEX Math

Let x denote the number of eruptions in a year. Then, x can be modeled by a Poisson distribution

$$p(x) = \frac{e^{-\lambda}\lambda^x}{x!} \tag{1}$$

where λ is the rate of eruptions per year. Using Equation 1, the probability of an eruption in the next t years can be calculated.

8.6 Markdown Table

Table 1: Recent historic eruptions on La Palma

Name	Year
Current	2021
Teneguía	1971
Nambroque	1949
El Charco	1712
Volcán San Antonio	1677
Volcán San Martin	1646
Tajuya near El Paso	1585
Montaña Quemada	1492

Table 1 summarises the eruptions recorded since the colonization of the islands by Europeans in the late 1400s.

8.7 Inserting Images

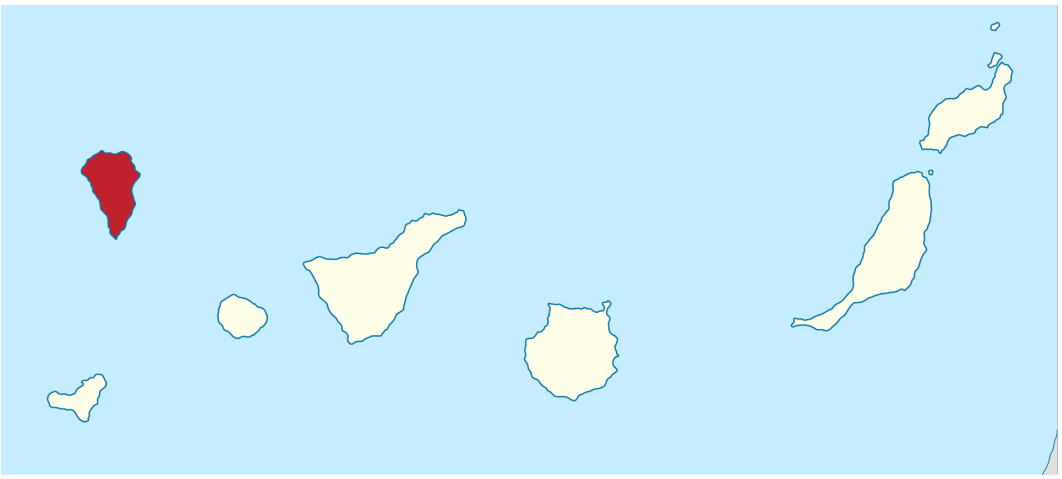

Figure 2: Map of La Palma

8.8 Referencing Figures

La Palma is one of the west most islands in the Volcanic Archipelago of the Canary Islands (Figure 2).

8.9 Using figure from embeded notbook

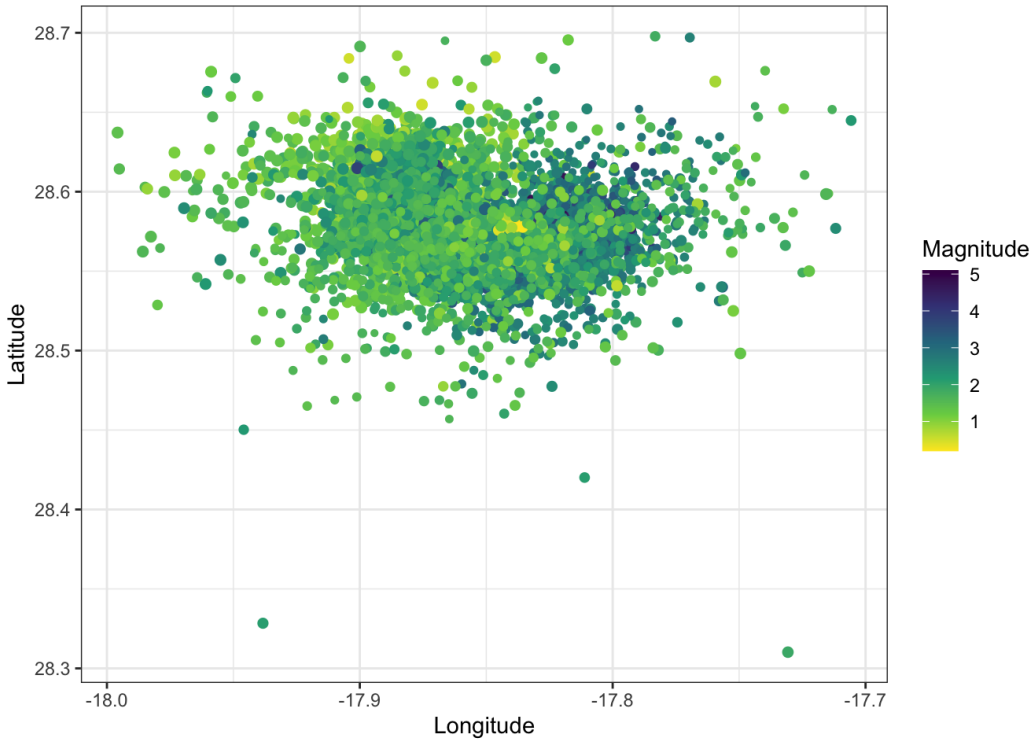

Figure 3: Locations of earthquakes on La Palma since 2017

Source: Explore Earthquakes

Figure 3 shows the location of recent Earthquakes on La Palma.